Org to BCC 115-002
Rot to Bd Rec/Ltr

NOTICE OF ADOPTION OF AN AMENDMENT TO THE DEVELOPMENT ORDER
FOR THE MEADOW POINTE (F/K/A TROUT CREEK) DEVELOPMENT OF REGIONAL IMPACT

21.
23.
24.

Pursuant to Section 380.06(15)(f), Florida Statutes, notice is hereby given that the Pasco County Board of County Commissioners, by Resolution No. 92-50 dated November 12, 1991, has adopted an amendment to the Development Order for a Development of Regional Impact known as Meadow Point, f/k/a Trout Creek, (Resolution No. 90-32). The above-referenced Development Order constitutes a land development regulation applicable to the property described in Exhibit "A" of the Development Order.

A legal description of the property covered and the Development Order may be examined upon request at the Office of the Clerk to the Board of County Commissioners of Pasco County, Pasco County Courthouse, Dade City, Florida.

R1195706 WE170394 01/10/92 04:07 PM
REFERENCE # 115002
RECORDING/INDEXING 13.00
RECORDS MODERNIZATION FEE
SAYBAR 01-B AMT PAID: .00

The recording of this Notice shall not constitute a lien, cloud, or encumbrance on the real property described in above-mentioned Exhibit "A" nor actual nor constructive notice of any of the same under the authority of Section 380.06(15)(f), Florida Statutes.

✓ Mike Wells
MIKE WELLS, CHAIRMAN
BOARD OF COUNTY COMMISSIONERS

8482644
NOV 30 4 53 PM '92

State of Florida)
County of Pasco)

The foregoing Notice of Adoption of Development Order was acknowledged before me this 12th day of November, 1991

R1195706 WE170394 01/10/92 04:07 PM
REFERENCE # 115002
RECORDING/INDEXING 5.00
RECORDS MODERNIZATION FEE 1.00
TOTAL: 6.00
CHARGE 6.00
AMT PAID: .00

Donald Schmidt
Notary Public
State of Florida at Large
My Commission Expires:
Deputy Clerk

RECORD VERIFIED
JED PITTMAN
Clerk Circuit Court, Pasco County
D McCallum

Record to Mike Wells

APPROVED AS TO LEGAL FORM AND CONTENT
Office of the County Attorney

O.R. 2082 PAGE 1500

Attorney

8314474
NOV 13 3 30 PM '91

O.R. 2065 PAGE 0794

meadow:pl

DESCRIPTION: All of Sections 31, 32, and 33, Township 26 South, Range 20 East, Pasco County, Florida

LESS - The Southeast 1/4 of the Southeast 1/4 of said Section 33.

LESS - The Southwest 1/4 of the Southeast 1/4 of said Section 33.

LESS - The triangular Southwest 1/2 of the South 1/2 of the Northwest 1/4 of the Southeast 1/4 of said Section 33.

LESS - The East 1/2 of the Southeast 1/4 of the Southwest 1/4 of said Section 33.

LESS - The triangular Southeast 1/2 of the Southeast 1/4 of the Northeast 1/4 of the Southwest 1/4 of said Section 33.

LESS - The right-of-way for County Road No. 581.

Containing 1821 acres, more or less.

NOTE: Total site area includes existing residential development, Tanglewood Village, Phases 1 and 2 (aggregating approximately 95.5 acres), which is not owned by Applicant/Developer.

--

R1195831 V5192898 01/10/92 04:57 PM
RECORDING/INDEXING 21.00
RECORDS MODERNIZATION FEE 3.00

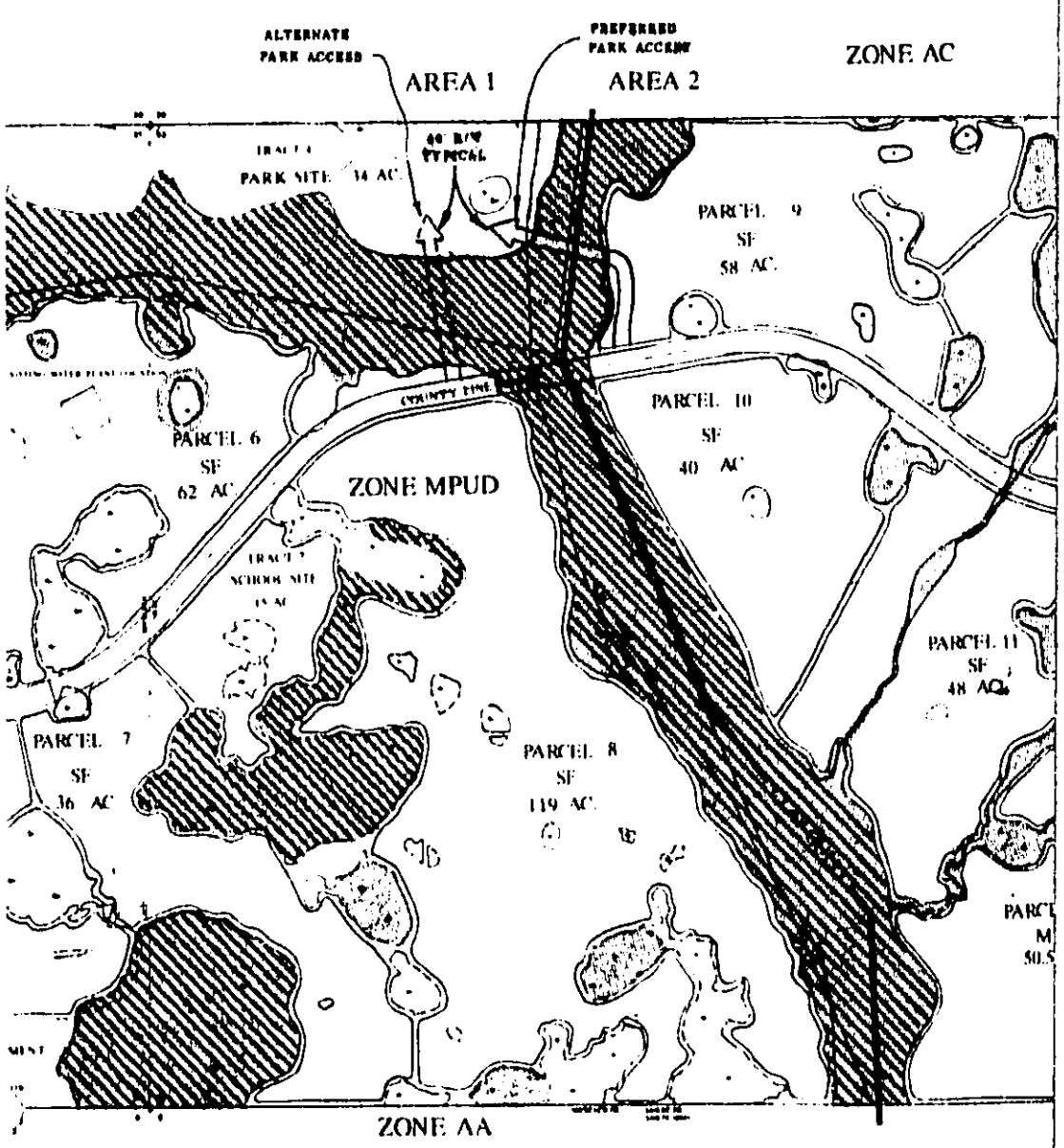
EXHIBIT "A" TOTAL: 24.00

Trout Creek Legal Description GAYBAR 115002 CHARGED: 24.00
01-B AMT PAID: .00

D AREAS THAT WILL BE MAINTAINED EXCEPT AS OTHERWISE AUTHORIZED BY D. E. R. , SWFW

.VATION AREAS (PER FRCRPP 10.3.1)
ARGE FLOODPLAINS, LARGE SWAMPS)

RVATION AREAS (PER FRCRPP 10.1.2)
MALLER SWAMPS)



O.R. 2082 PAGE 1502

EADOW POINTE

PASCO COUNTY

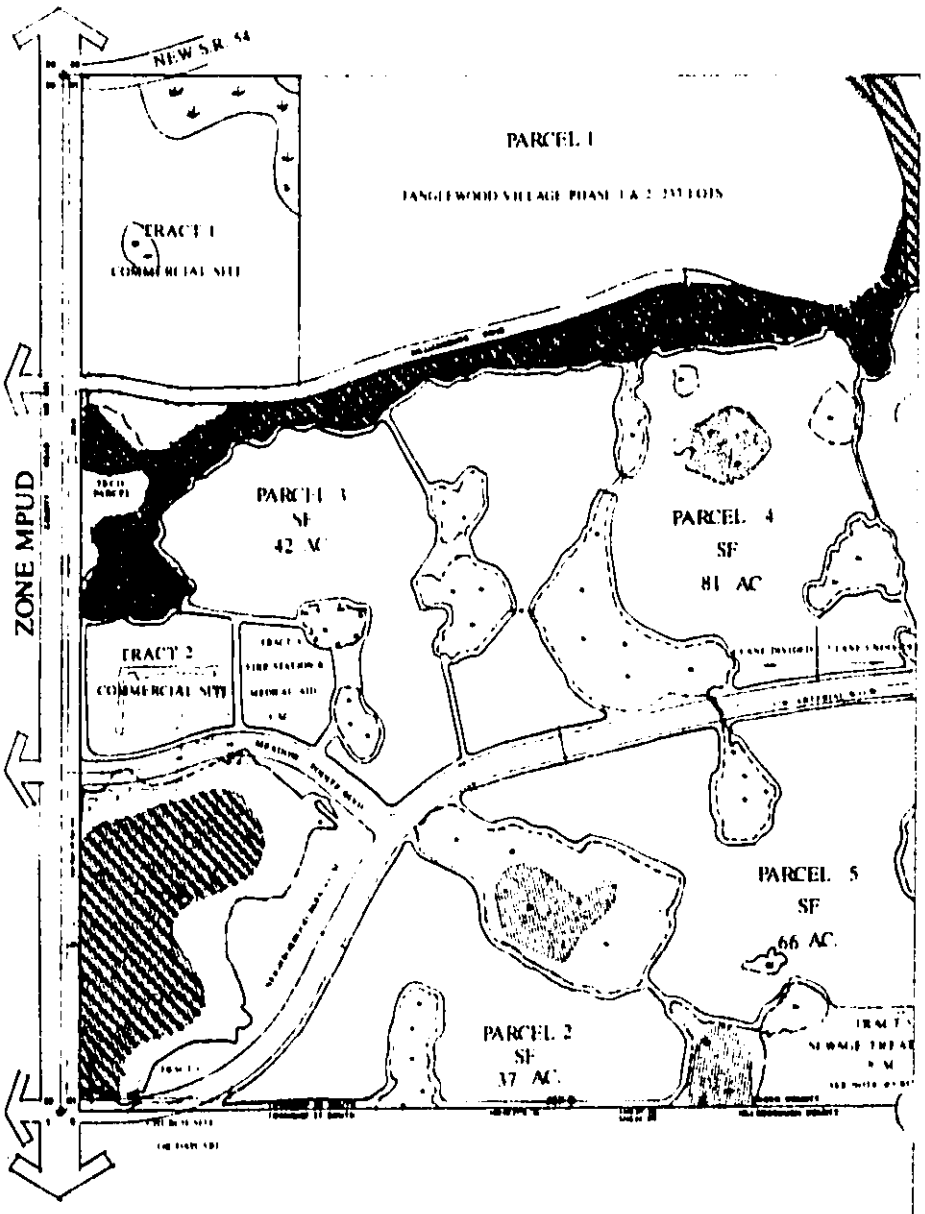
Description	Date	Dwn	Ck'd
Alt. Park Access	7/31/91	B.P.	
C.L.Rd., TECO	6/26/91	DY	
ADD PRES. AND CONS. AREAS	12/89	MB	

REVISIONS

WETLAN

= PRESE
(L

= CONSE
(S



O.R. 2082 PAGE 1503

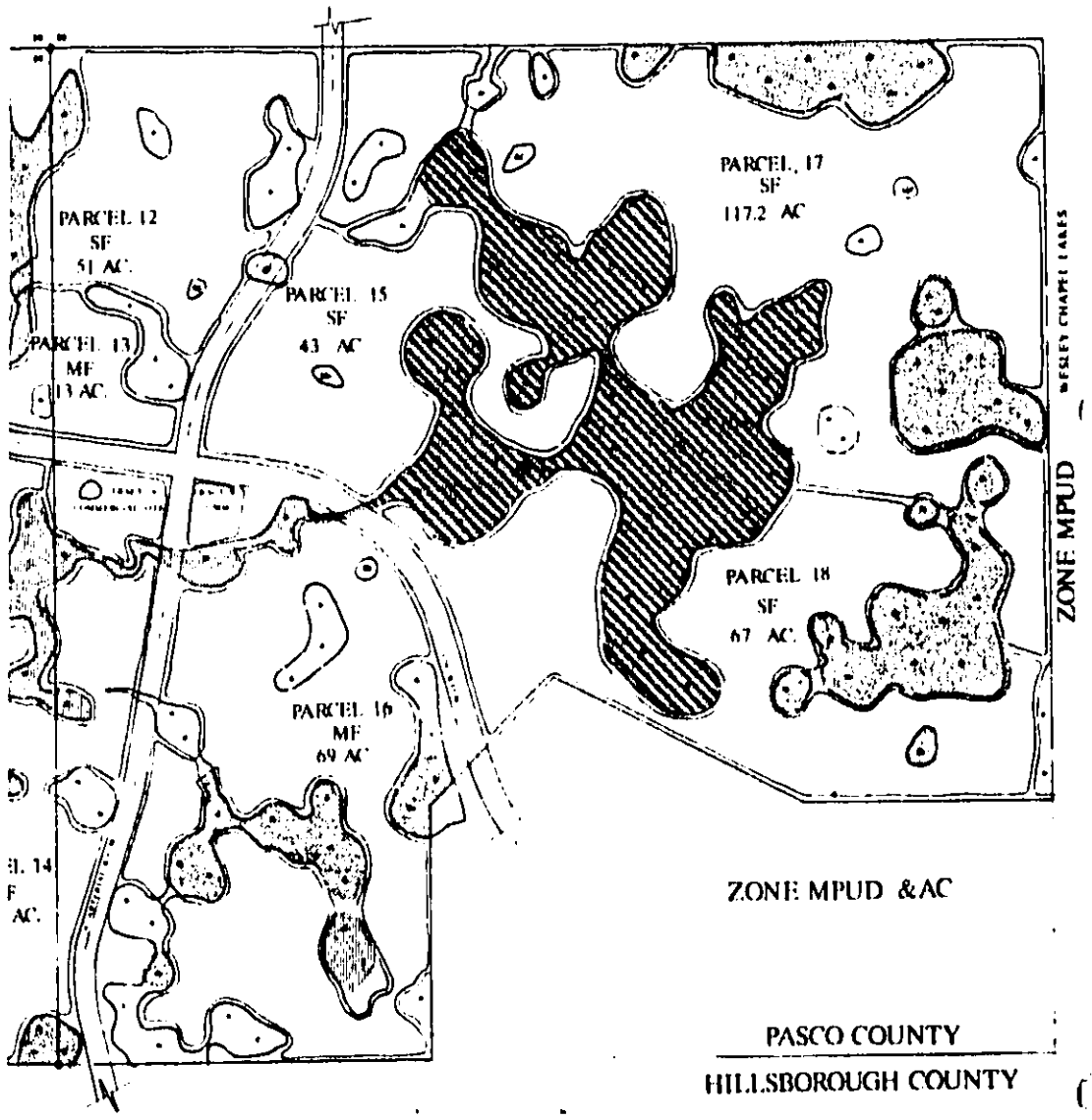
A MIXED USE DEVELOPMENT BY:

TROUT CREEK DEVELOPMENT CORPORATION

M

MD, AND OR THE ARMY CORPS OF ENGINEERS

NOTE: WETLAND DELINEATIONS IN AREA 2 ARE ESTIMATED



O.R. 2082 PAGE 1504

EXHIBIT A

SWANN PLAZA
2212 Swann Avenue
Tampa, Florida 33606
Phone: (813) 253-5311

DT & ASSOCIATES, INC.

IVIL ENGINEERING
LAND SURVEYING

MAP H1

CONCEPTUAL LAND USE & GEOGRAPHIC MAP

06-30-89 11.6

FF 2-1